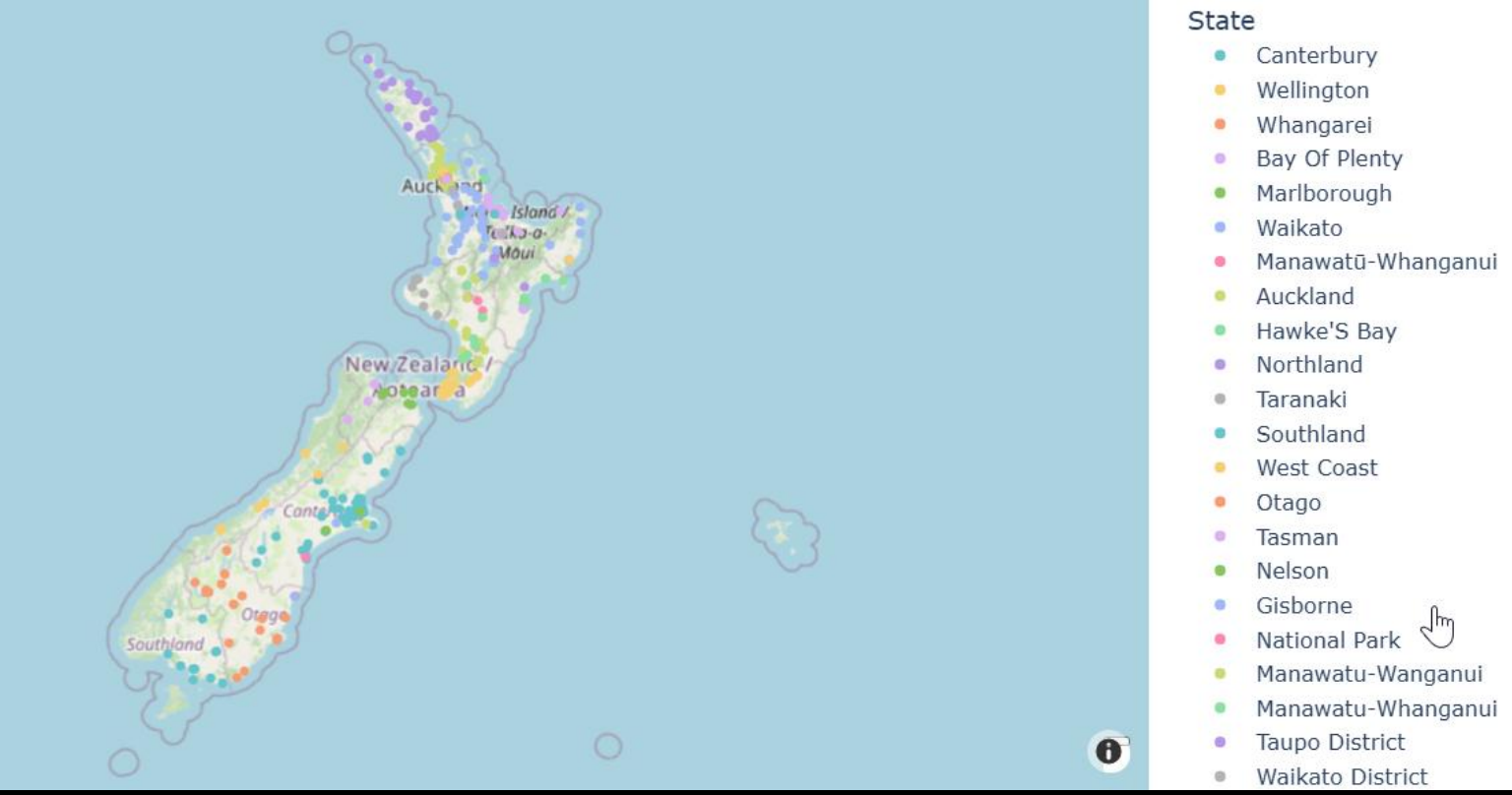

Turn raw data into gold !

#AI powered Report
#Vibe coding

Report – EV Charging Stations in NZ

How is this report created ?

Harnessed the intelligence of LLM and processing power of Python to generate the report.

3 Steps process –
That's all it takes !

Report creation by #AI

STEP 1. Fetched data from API

Used Open Charge Map API for collecting datapoint of –

EV Charging Stations in NZ

Report creation by #AI

STEP 2. Analysed with Python

Used only #Prompts to generate code. #Vibe coding

STEP 3. Published HTML report

TOOLS

GitHub CoPilot
Python
Visual Studio Code

Report

EV Ch EV Ch EV Ch EV Ch

20work%20-%20new/AI/Visu...

EV Charging Stations Analysis - New Zealand

Summary

This report provides an in-depth analysis of EV charging stations across New Zealand. Key insights include:

- **Top 10 EV Charging Stations:** The stations with the highest number of charging points are highlighted, helping customers identify the most equipped locations.
- **Geographic Distribution:** The "EV Charging Stations Footprint in NZ" map provides a visual representation of station locations, categorized by region for easy navigation.
- **Connection Type Distribution:** A breakdown of charging connection types helps customers understand the compatibility of their vehicles with available stations.
- **Free vs Paid Stations:** A pricing analysis shows the proportion of free and paid charging stations, enabling cost-effective planning.
- **Regional Distribution:** The "Number of EV Charging Stations by Region" chart highlights the density of stations in different regions.

Suggestions

Based on the analysis, here are some recommendations:

- Focus on expanding charging infrastructure in regions with fewer stations to improve accessibility for EV users.
- Promote the use of free charging stations to encourage EV adoption and reduce operational costs for users.
- Provide clear information about connection types at each station to ensure compatibility with a wide range of EV models.
- Consider adding more charging points to high-demand stations identified in the "Top 10 EV Charging Stations" chart.

Useful Information

Customers can use this report to:

- Plan trips by identifying regions with high station density.
- Locate free charging stations to save on costs.
- Understand the geographic spread of stations for better route planning.
- Identify stations with the most charging points for faster service.

Report

Graph 1 – Top 10 EV stations in NZ
Graph 2 – Connection Type

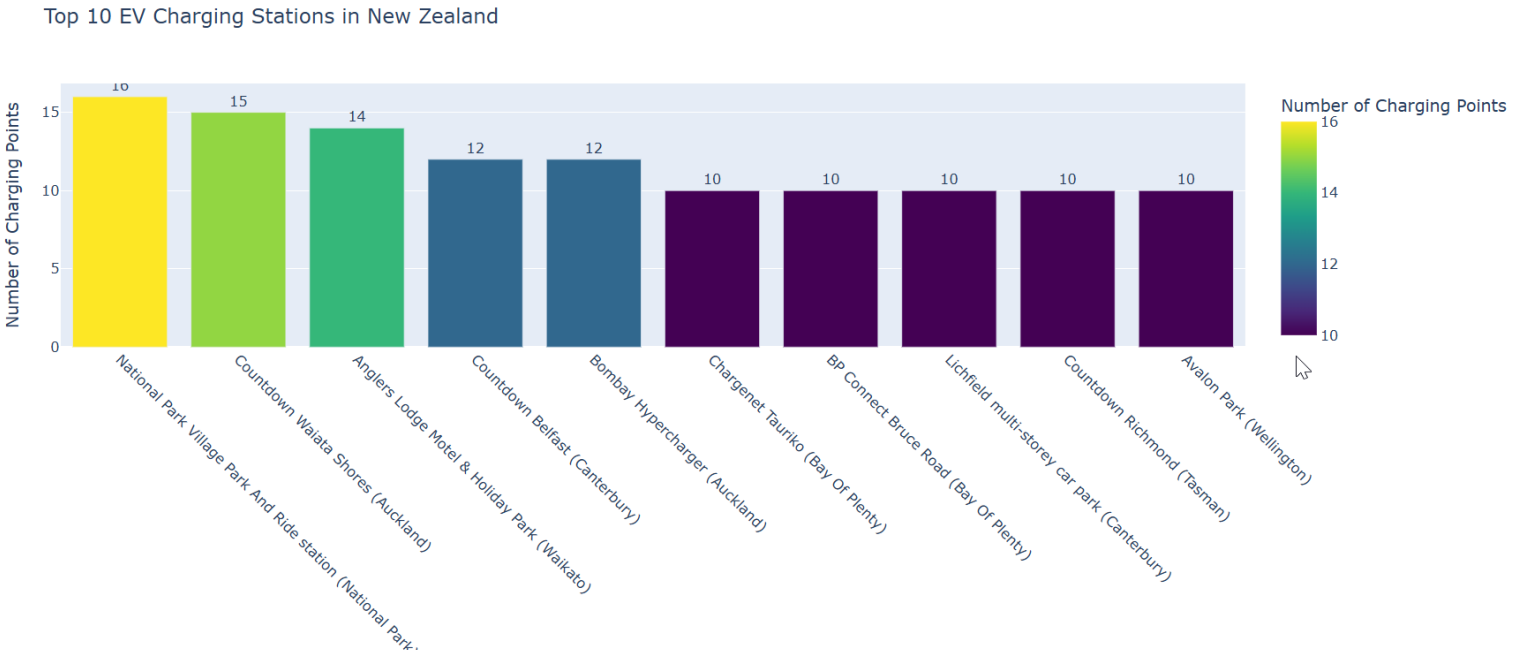

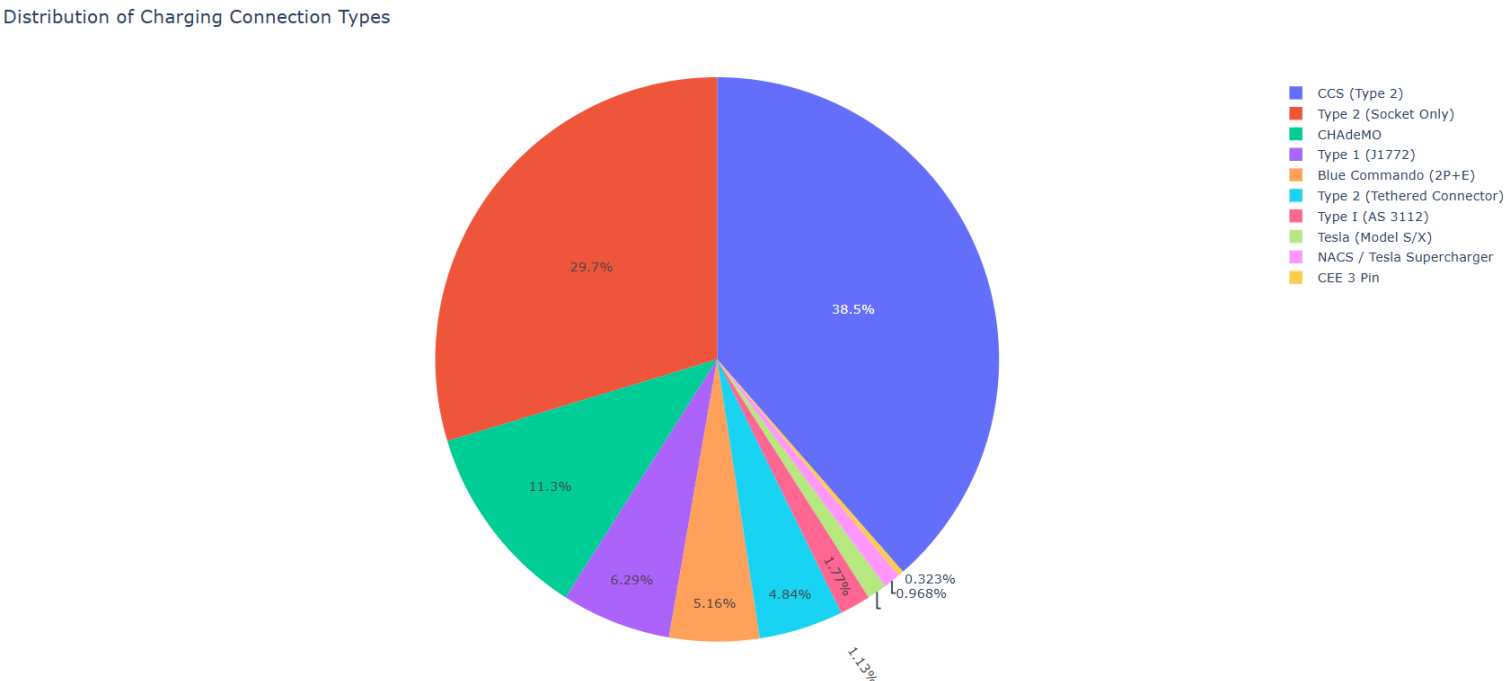

Report

Graph 3 – EV stations footprint in NZ
Graph 4 – Free vs Paid stations

EV Charging Stations Footprint in NZ

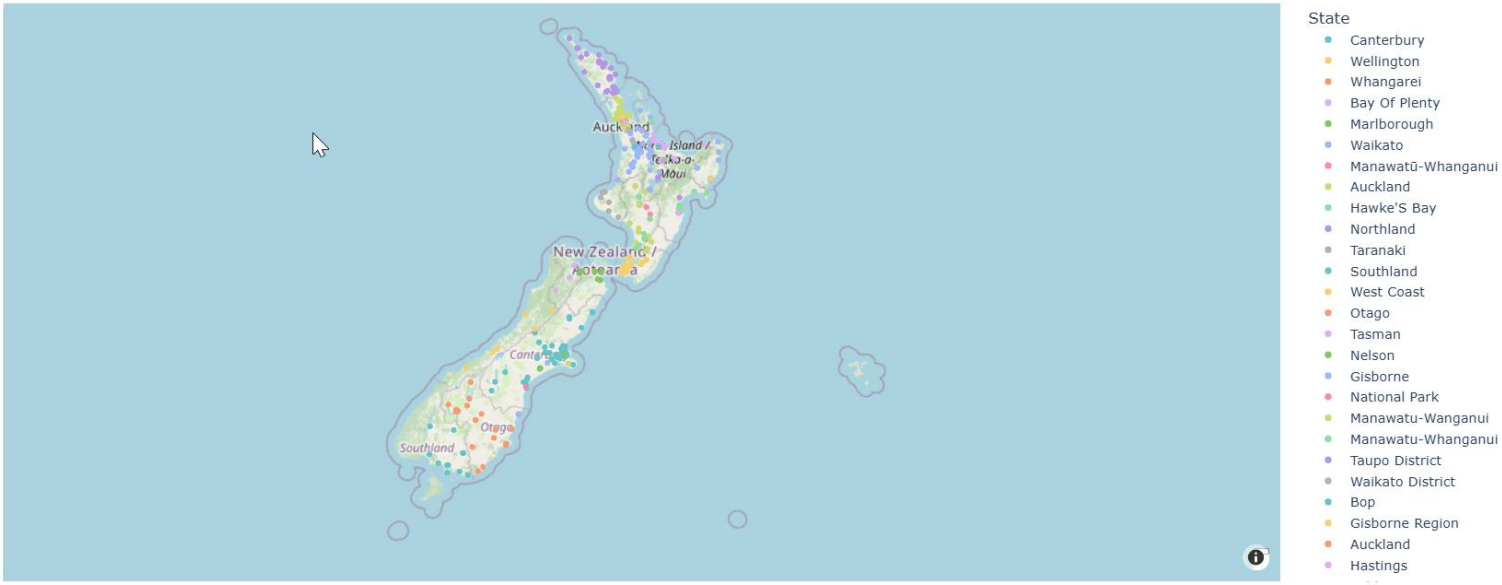

Distribution of Free vs Paid Charging Stations

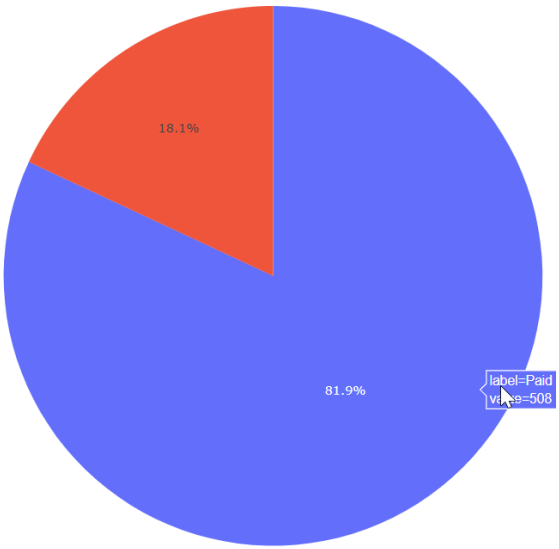

Report

Graph 5 – Total EV stations in Regions
Graph 6 – Top 3 stations in Regions

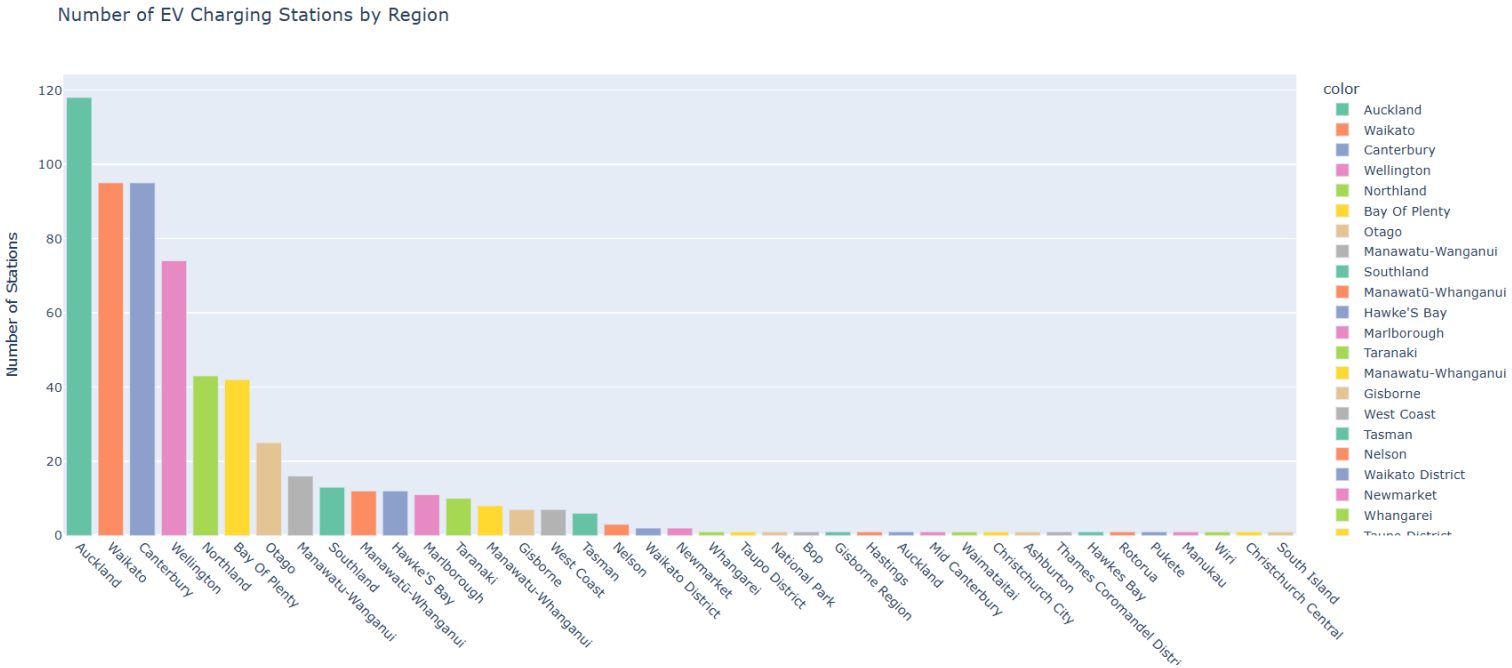

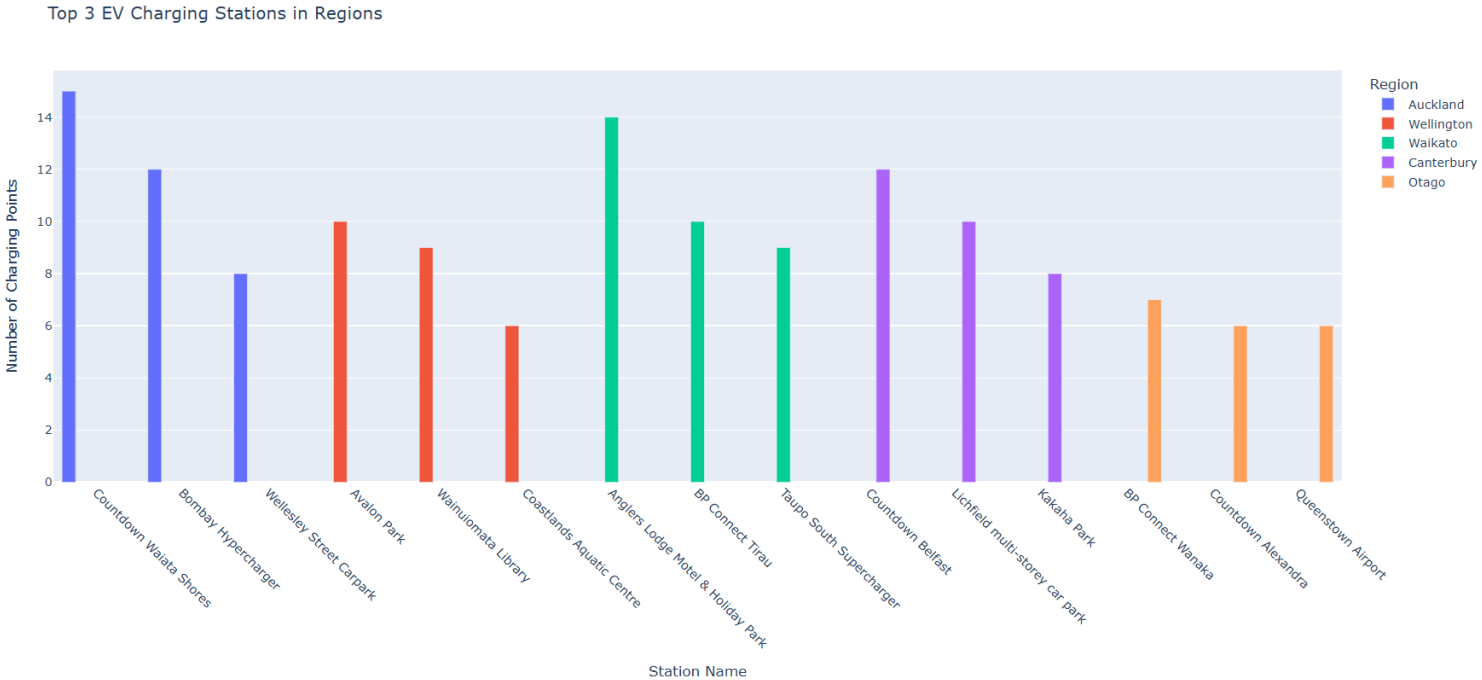

Highlights of the Report

980 | The number of EV charging stations in NZ

INSIGHTS –

- ✓ Top 10 EV Charging Stations in NZ
- ✓ Connection Type Distribution
- ✓ Geographic Distribution
- ✓ Free vs Paid Stations
- ✓ Total EV Charging Stations in Regions
- ✓ Top 3 EV Charging Stations in Regions

Benefits of this report –

- ✓ Plan trips by identifying regions with high station density.
- ✓ Locate free charging stations to save on costs.
- ✓ Understand the geographic spread of stations for better route planning.
- ✓ Identify stations with the most charging points for faster service.

#AI powered
Reports

Transforming
data
into insights
with the
brain of #LLMs
and the
muscle of #Python